Investigating the use of Reinforcement Learning Algorithms in Traffic Environments

Abdul Muhaymin Abdul Hafiz[1]

BSc Computer Science

Supervisor: Prof. Graham Roberts

Submission date: Day Month Year

[1]**Disclaimer:** This report is submitted as part requirement for the BSc Degree in Computer Science at UCL. It is substantially the result of my own work except where explicitly indicated in the text. The report may be freely copied and distributed provided the source is explicitly acknowledged.

Abstract

Summarise your report concisely.

Contents

1 Introduction **2**

1.1 The Problem . . . 2

1.2 Aim and Objectives . . . 2

1.3 Report Overview . . . 3

2 Simulated Environment **4**

2.1 OpenStreetMap . . . 4

2.2 Simulation of Urban MObility . . . 5

2.3 Route Generation . . . 5

2.3.1 Binomial Distribution . . . 7

2.3.2 Poisson Distribution . . . 7

2.4 Summary . . . 8

3 Reward System **9**

3.1 Existing Traffic Light Systems . . . 9

3.1.1 Fixed-Time Control . . . 9

3.1.2 Vehicle-Actuated Control . . . 9

3.1.3 Adaptive Traffic Control . . . 10

3.1.4 Limitations . . . 10

3.1.5 Motivation for Reinforcement Learning . . . 10

3.2 Baseline Environment . . . 11

3.3 Reward Calculation . . . 11

3.4 Summary . . . 11

4 etc. **12**

5 Conclusions **13**

5.1 Achievements . . . 13

5.2 Evaluation . . . 13

5.3 Future Work . . . 13

A Other appendices, e.g., code listing **16**

Chapter 1

Introduction

1.1 The Problem

Traffic lights are ubiquitous signalling devices used to control the flow of vehicle and pedestrian traffic, primarily for safety and better regulation of traffic. First introduced in 1868 on Parliament Square in London [Tha17], there have been a wide range of designs created with the most common being a three-colour design – that is green, amber, and red.

The three-colour de jure standard typically uses an internal clock to cycle through and control the duration of each signal phase in a pre-programmed pattern. Whilst this is an obvious approach, the fixed timer takes for granted that traffic demand will remain relatively constant over time, disregarding finer granularity and variations in conditions.

In an endeavour to improve upon this, advanced traffic light systems equipped with sensors are progressively being introduced. These systems dynamically adapt signal timings in response to observed traffic conditions by using rule-based logic and manually designed heuristics. This approach offers improvements in waiting times and vehicle throughput [FHW17], however it relies on predefined rules defined by domain experts that may fail to generalise and perform optimally in all conditions.

1.2 Aim and Objectives

The overall aim of this dissertation will be to perform a detailed analysis and evaluation of how an intelligent agent may be used to hopefully improve upon existing traffic light systems. Rather than explicitly defining behaviour in different traffic scenarios as before, we will observe how optimal decision-making policies may be learnt independently through the use of reinforcement learning algorithms.

Based on this aim, the following objectives are defined:

1. Define an environment in which our simulations and experiments will be conducted.
2. Build an abstracted computer representation of the area.
3. Review the traffic light systems currently in use.
4. Develop our own intelligent agents progressively, going through various reinforcement learning algorithms to see what improvements are made.

5. Consider the impact on both pedestrians and vehicles, and the effects of changing the road design in itself as a means of making improvements.

6. Evaluate the performance of our intelligent agents.

7. Finally, assess the feasibility of our agents and what factors would need to be considered in a tangible implementation.

Time is a currency that once spent cannot be regained. Traffic lights govern our lives to the extent that saving mere fractions of a second at the individual level can compound to an indescribable amount saved when considering the aggregate. By leveraging intelligent agents, this research hopes to take traffic lights a step further – regardless of how big that step may be.

1.3 Report Overview

!!! MUST REDO SINCE THE STRUCTURE HAS CHANGED !!!

We will begin with defining the environment in which we will be conducting our traffic experiments, and then building out this environment using available open source tools and libraries. Whilst accuracy and scope of the environment are important, they will not take precedence over the implementation and analysis of the intelligent agents themselves.

Following this, the context and theory behind reinforcement learning itself will be explored, as well as definitions and terminology that will be used throughout the dissertation. These foundations will be necessary when explaining the motivation behind decisions made later on.

Next we will discuss the creation of an application programming interface that will enable us to connect to our environment for the purposes of observation and control. Based on the default environment and traffic light systems, we will also define a reward which will be used to evaluate performance.

Upon making our environment, we will implement and explore different reinforcement learning algorithms our intelligent agent may use – namely Q-learning and Deep Q-learning. These discussions will be supplemented with the theory regarding how each works, as well as the improvements and limitations proposed by each. Further derivatives of these algorithms and the advantages they bring will also be briefly touched upon, however they will not be implemented.

Continuing from this, a novel approach in which multiple intelligent agents interface together through the use of a network layer will be detailed and implemented. The limitations imposed by such an approach will be considered, as well as how it may be implemented in practice outside of the simulated environment setting.

Finally, after testing and evaluating the different approaches in unforeseen traffic scenarios, we will draw our overall conclusions. Feasibility of such a project will be discussed, as well as interesting technical challenges that were encountered. Future work and limitations to consider will then be commented on.

Chapter 2

Simulated Environment

Before we get to our intelligent agents, we must first construct an environment where the agent can receive input – or state, rather – and perform actions. For the sake of simplicity this environment will be constrained to the streets surrounding University College London's (UCL) Bloomsbury Campus. This area provides scope sufficient for the agents to train well and generalise to other situations.

2.1 OpenStreetMap

OpenStreetMap is a map database maintained by a community of volunteers. Using their data obtained from ariel photo imagery, satellite imagery, geodata sources, as well as manual community additions [HW08], we can extract a portion of UCL's Bloomsbury Campus[1], also complete with data such as traffic lights and crossings.

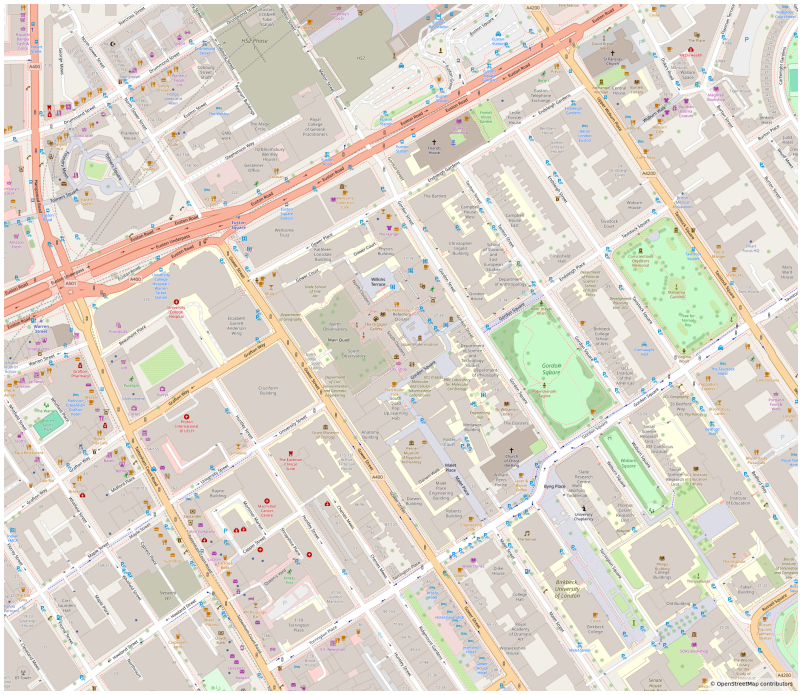

Figure 2.1: Map of UCL's Bloomsbury Campus extracted from OpenStreetMap data.

[1]The map centre is: 51.52519°N, 0.12870°W (WGS84).

Although the data from OpenStreetMap provides a lot of useful information, we will supplement it with Google Street View – featured in the Google Maps software – which provides interactive panoramas from positions along the streets. This will allows us to find out more precise information such as lane markings and widths.

2.2 Simulation of Urban MObility

Simulation of Urban MObility (SUMO) is an open source, multi-modal traffic simulation package designed to handle large networks. It allows for intermodal simulation including pedestrians and comes with a large set of tools for scenario creation.

Using the image in Figure 2.1, we can create a network using the *netedit* graphical network editor included in SUMO. Networks are primarily comprised of edges, which is subdivided into lanes, and junctions, which are nodes where the edges meet. Junctions additionally support crossings, lane connections, and traffic lights.

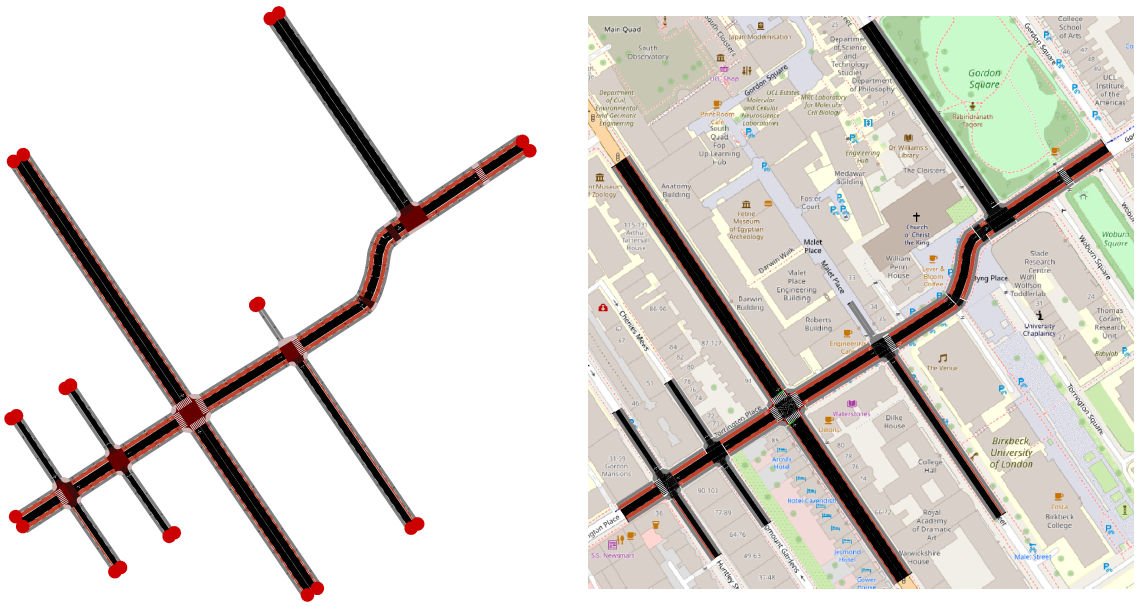

(a) Road network in netedit.

(b) Simulation view in SUMO.

Figure 2.2: Demo simulation environment.

In Figure 2.2a, the red circles and intermediary maroon links indicate junctions, whereas the in between sections are the edges. Each edge can be comprised of a bicycle lane, pedestrian lane, and/or vehicle lane as shown. Additionally, crossings have been added to the junctions, and a configurable traffic light system has been added with the lane connections appropriately adjusted.

Though not visible in the road geometry, lane and junction priorities have also been set, consistent with rules 170–183 of The Highway Code [DfT]. In the UK, 'main' and 'side' roads are relative terms, with the road with priority (e.g. no give-way markings, or priority road signs) functioning as the main road, while the road required to give way is the side road.

2.3 Route Generation

The SUMO installation includes an additional collection of tools for convenience. One such tool is a `randomTrips.py` script written in Python which enables automatic generation of trips and

routes[2] for different origin-destination pairs for a given road network.

We use this script to generate traffic for the following three types of entities, though SUMO provides the flexibility for more:

- Cars
- Bicycles
- Pedestrians

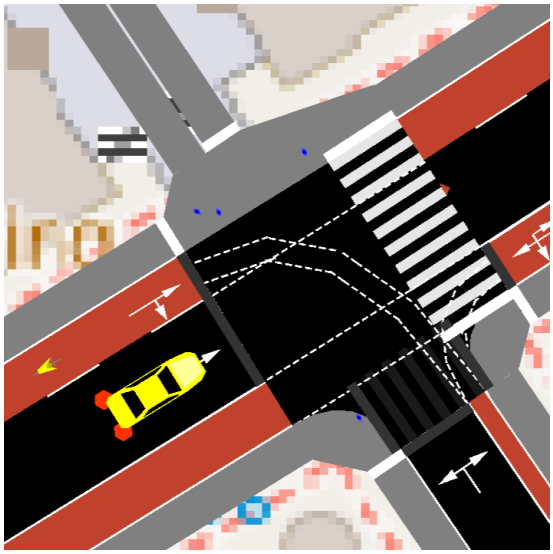

Figure 2.3: Example of car, bicycle, and pedestrian entities.

In Figure 2.3, the car, travelling east, is shown as a yellow rectangle with brake lights; the bicycle, travelling east on the bicycle lane, is depicted as a yellow trapezium-like shape emerging from the left side of the image; and the pedestrians are represented as blue circles.

Route generation is controlled by several parameters, including:

- `--seed`: Ensures reproducibility of the random generation process.
- `--insertion-density`: Controls the density of generated entities.
- `--binomial`: Controls how vehicle insertions are distributed over time by sampling departures from a binomial distribution.
- `--fringe-factor`: Ensures that vehicles spawn at the outer edges of the network.
- `--random-factor`: Randomizes edge weights to increase the variability between generated routes.

There are other obvious parameters omitted which allow you to specify information such as the input network for which the routes are generated, the output trip and route files, the entity type, and the start and end time of entity generation.

[2]N.B. a *trip* defines a random start A and end B, whereas a *route* defines the exact edges to traverse to get from that start A to end B.

2.3.1 Binomial Distribution

The `--binomial` parameter allows vehicle departures to be sampled from a Binomial distribution. Real-world traffic arrivals are not perfectly periodic due to human behaviour as well as variations in the environment. Rather than inserting vehicles into the simulation at perfectly regular intervals, stochastic variation is introduced such that some seconds contain more vehicle departures and others fewer.

$$X \sim \text{Binomial}(N, p)$$

$$\mathbb{E}[X] = Np$$

Where N is given by the `--binomial` parameter, and Np equals the insertion rate calculated from the `--insertion-density` parameter. Thus, the overall expected value of departures per time step still remains equal to the deterministic insertion rate.

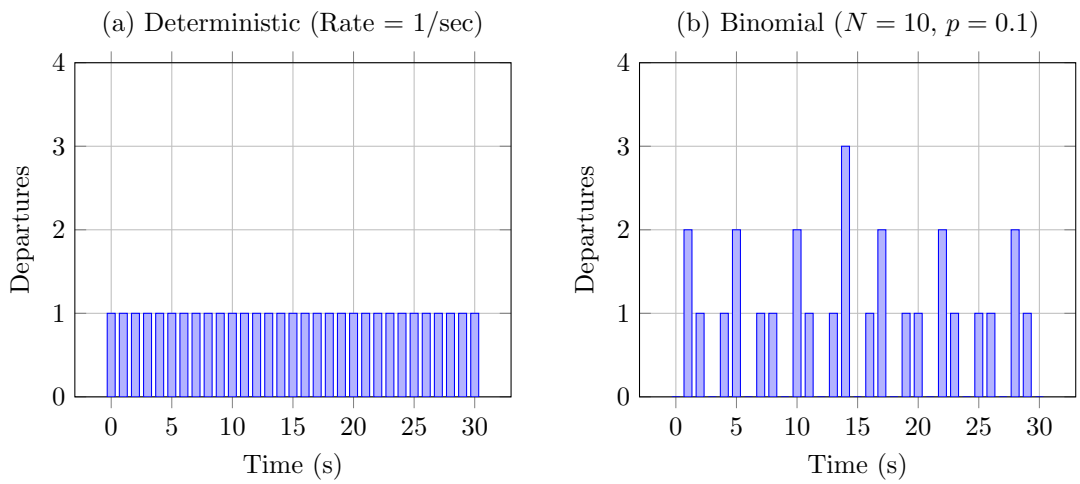

Figure 2.4: Comparison of deterministic and binomial vehicle insertions.

2.3.2 Poisson Distribution

In traffic theory, Poisson processes are commonly used and preferred over the Binomial distribution to model vehicle arrivals [GS55]. In fact, for sufficiently large N and small p, the binomial distribution approximates a Poisson distribution:

$$\text{Binomial}(N, p) \approx \text{Poisson}(\lambda), \quad \text{where} \quad \lambda = Np$$

The `randomTrips.py` script provides flexibility in defining vehicle traffic. For example, you may define there to be n fixed 'flows' which traffic may take – some of which may annoyingly be duplicates – or you let any of the possible routes for the traffic be arbitrarily, independently chosen each time a new vehicle is inserted.

Whilst there is no problem with the Poisson distribution per se, the script is designed such that it is only compatible with the prior definition method. Binomial sampling on the other hand is compatible with the latter method as well as other parameters which are more flexible for our purposes and have less implementation-specific issues. For this reason, it was chosen.

2.4 Summary

This chapter described the creation of a simulated environment based on the streets surrounding UCL's Bloomsbury campus. Road network data was extracted from OpenStreetMap and refined using Google Street View. The network was implemented using SUMO, where edges and junctions were defined.

Using SUMO's `randomTrips.py` tool, there is a way for scalable creation of diverse traffic scenarios. Stochastic vehicle insertions is used to better approximate real-world traffic variability. Overall, these components establish a way in which we can train and evaluate intelligent agents.

Chapter 3

Reward System

Now that we have seen how an environment – composed of a network and traffic routes – is constructed, we will develop a numerical reward system used to evaluate the performance of different intelligent agents. This reward system will use a contemporary traffic light system algorithm as a baseline; a good reward system is paramount to training intelligent agents effectively.

3.1 Existing Traffic Light Systems

Modern traffic light control has changed significantly over the years, ranging from simple fixed-time mechanisms to complex adaptive and coordinated systems. Broadly speaking, systems can be categorised into three main types: fixed-time control, vehicle-actuated control, or adaptive traffic control.

3.1.1 Fixed-Time Control

Fixed-time traffic signals operate according to a predetermined schedule. Signal phases and cycle lengths are configured in advanced, typically using historical data [GBG]. The controller cycles repeatedly through these phases regardless of traffic conditions.

Such systems are predictable and inexpensive, used in city centers, interchanges, or roadworks. However, they assume stable traffic patterns. During periods of unusual demand, fixed-time systems cannot respond dynamically, leading to inefficient utilisation of junctions.

3.1.2 Vehicle-Actuated Control

Actuated systems are an improvement over purely fixed-time control systems. These systems utilise sensors – such as inductive loop detectors or cameras – to detect vehicles. Pedestrians can also use push buttons to register their presence [DfT23]. This may for example enable one route at an intersection to stay active if other routes are barren.

Typically used in rural roads or highway operations, they may be semi-actuated, where detectors are only placed on side approaches, or fully actuated, in which detectors are installed on all approaches. Overall, responsiveness to traffic conditions is improved, reducing unnecessary waiting. However, it relies on rule-based logic and manually defined heuristics, which may fail to perform optimally in all conditions [Li23].

3.1.3 Adaptive Traffic Control

Unlike fixed-time or purely vehicle-actuated control systems, adaptive traffic control enables signal timings to be adjusted in real time based on observed traffic conditions. Data is collected from inductive loops, cameras, or other technologies.

By modifying parameters such as cycle length, phase splits, and offsets in response to traffic [Li23], adaptive controllers seek to reduce delays, smooth traffic flow, and increase throughput (though it may also be used to *discourage* high volumes of traffic at the request of local residents for example).

Split Cycle Offset Optimisation Technique (SCOOT) and the Sydney Coordinated Adaptive Traffic System (SCATS) are two examples widely deployed in urban areas. These systems group signals into regions and make dynamic adjustments to balance delays and improve coordination. This helps promote "green waves", where vehicles encounter consecutive green lights without having to stop, but possibly with added pedestrian and cyclist delays [CU21].

SCOOT has demonstrated an improvement in traffic performance of order of 15% compared to fixed-time control systems [ITS12]. In London, with the introduction of the cloud-based Real Time Optimiser platform, this is being replaced with FUSION – intended to bring even further improvements. However, these systems still rely on human-designed algorithms. Optimal strategies are not necessarily "learnt", nor does it adapt to every possible traffic scenario without explicit modeling by engineers.

3.1.4 Limitations

Existing traffic light systems work well enough, however there are several fundamental limitations.

Firstly, these systems rely on parameter tuning and predefined logic. Even for adaptive traffic control the optimisation strategies used are engineered by domain experts. Performance is constrained by assumptions embedded in the design and, when traffic conditions deviate from these, optimality is not guaranteed.

Secondly, most traditional systems are designed such that they prioritise vehicular throughput. Pedestrians and cyclists are typically the secondary optimisation target. This may lead to scenarios in which vehicles reap the benefits at the expense of pedestrians who may see increased waiting times.

Thirdly, these systems are limited with regards to learning. Although adaptive traffic control systems respond in real time, they do not learn from historical experience in the sense of improving their strategy. Parameters may be recalibrated periodically by engineers, but this is not autonomous and novel strategies may be missed. Considering the scale of these systems, it may be hard to consider all possible variables.

Finally, implementation and maintenance costs are non-trivial. These systems require extensive sensor and communication infrastructure, calibration, as well as continuous monitoring by traffic engineers. The complexity of these systems also make them less transparent and harder to validate formally with respect to performance benefits.

3.1.5 Motivation for Reinforcement Learning

Reinforcement learning offers an alternative method of traffic signal control. Control policies are not explicitly programmed, but instead emerge through intelligent agents interacting with a traffic

environment. An intelligent agent can observe current traffic state, select a signal phase action, and receive feedback in the form of a reward from the environment.

Over time, behaviour gradually improves and a control strategy emerges through experience, as opposed to encoding behaviour manually for every possible scenario. The ability to learn makes this very powerful; most limitations discovered above are mitigated by learning – though perhaps not the infrastructure costs. Ergo, this will be explored for the remainder of this dissertation.

3.2 Baseline Environment

Comment on insertion density for pedestrians and vehicles (-adjusted to make equal with pedestrians density)

3.3 Reward Calculation

Cache stats, mean + standard deviation, weights...

Comment on different weights to prioritise either pedestrians or vehicles (currently equal) – test max pedestrian priority, or max vehicle – empirically what would be the best choice (average number of people per one vehicle vs one pedestrian).

3.4 Summary

Chapter 4

etc.

Chapter 5

Conclusions

5.1 Achievements

Summarise the achievements to confirm the project goals have been met.

5.2 Evaluation

Evaluation of the work (this may be in a separate chapter if there is substantial evaluation).

5.3 Future Work

How the project might be continued, but don't give the impression you ran out of time!

Bibliography

[Tha17] Thames Leisure. 12 amazing facts about London. *Thames Leisure*, archived January 7, 2017. Available at: https://web.archive.org/web/20170107005431/http://www.thamesleisure.co.uk/12-amazing-facts-london/.

[FHW17] Federal Highway Administration. EDC-1: Adaptive Signal Control Technology. *Federal Highway Administration*, 2017. Available at: https://www.fhwa.dot.gov/innovation/everydaycounts/edc-1/asct.cfm.

[HW08] M. Haklay and P. Weber. OpenStreetMap: User-generated street maps. *IEEE Pervasive Computing*, 7(4): 12–18, 2008. doi:10.1109/MPRV.2008.80.

[DfT] Department for Transport. The Highway Code: Using the road (Rules 159–203). *GOV.UK*. Available at: https://www.gov.uk/guidance/the-highway-code/using-the-road-159-to-203. Accessed: 20 February 2026.

[GS55] D. L. Gerlough and A. Schuhl. Use of Poisson Distribution in Highway Traffic: The Probability Theory Applied to Distribution of Vehicles on Two-Lane Highways. *Research Paper, Eno Foundation for Highway Traffic Control*, 1955. Available at: https://rosap.ntl.bts.gov/view/dot/16299. Accessed: 26 February 2026.

[GBG] S. Goel, S. F. Bus and C. Gershenson. Self-Organisation in Traffic Lights: Evolution of Signal Control with Advances in Sensors and Communications. *Research Paper, University at Albany*. Available at: https://arxiv.org/pdf/1708.07188. Accessed: 1 March 2026.

[DfT23] Department for Transport. Know your traffic signs: Pedestrian, cycle and equestrian crossings. *GOV.UK*, 5 December 2023. Available at: https://www.gov.uk/government/publications/know-your-traffic-signs/pedestrian-cycle-and-equestrian-crossings. Accessed: 1 March 2026.

[Li23] J. Li, L. Peng, K. Hou, Y. Tian, Y. Ma, S. Xu and T. Z. Qiu. Adaptive signal control and coordination for urban traffic control in a connected vehicle environment: A review. *Digital Transportation and Safety*, 2(2): 89–111, 2023. doi:10.48130/DTS-2023-0008. Available at: https://maxapress.com/article/doi/10.48130/DTS-2023-0008. Accessed: 1 March 2026.

[ITS12] Institute for Transport Studies, University of Leeds. Urban traffic control systems: Evidence on performance. *Institute for Transport Studies, University of Leeds*, archived October 19, 2012. Available at: https://web.archive.org/web/20121019152217/http://www.konsult.leeds.ac.uk/private/level2/instruments/

[CU21] B. Cesme and T. Urbanik II. Signal Coordination: Are We Really Coordinating For All Users? *Kittelson & Associates, Inc.*, October 15, 2021. Available at: https://www.kittelson.com/ideas/pros-and-cons-of-signal-coordination/.

Appendix A

Other appendices, e.g., code listing

Put your appendix sections here